HOPE
FOUNDATION

INTRODUCTION:

I Priyam Tiwari, Registration number: 12315493 opted to go with a local organization and NGO to complete this task. As my interest, objective and NGO's goals are similar, I have joined "**The Hope Foundation**" for **one month**.

As a part of The hope foundation, I have learned so many new things about environment, needs of human being, etc. and through this I have built a strong network, after joining the NGO I get familiar with many new things and daily life practices, So in this report I have mentioned everything that I learned and practiced.

ABOUT THE TRUST:

The Hope Foundation was registered as a non-government organisation in 2018 in the state of Uttar Pradesh, India.

Its main objective is to promote community welfare by raising awareness, supporting education, creating employment and emphasizing spiritual truths as essential elements in human evolution.

actively engages with various marginalized groups, including slum residents, migrants, minorities, children, women, youth, and vulnerable individuals in both urban and rural areas of Lucknow.

CERTIFICATE:



REGD. NO - LUC/03093

@HOPE_FOUNDATION_

HOPE
FOUNDATION

Certificate of Participation

THIS IS TO CERTIFY THAT MR./MRS./MISS Priyam Tiwari

S/0, D/O Sanjay Tiwari

HAS WORKED WITH US AS A VOLUNTEER FROM 20/06/2024 TO 20/07/2024 DATE. DURING THE SERVICE, WE FOUND HIM A HARDWORKING AND DEDICATED PERSON. HE WOULD BE AN ASSET OF ANY ORGANIZATION WITH WHOM HE WOULD BE ENGAGE. WE WISH HIM A BRILLIANT AND SUCCESSFUL CAREER IN HIS LIFE.

ABHINAV MISHRA
FOUNDER

HOPEFOUNDATIONN2019@GMAIL.COM

GPS Map Camera
Lucknow Division, Uttar Pradesh, India
Husainganj, Lucknow, Uttar Pradesh, India
Long 80.938745°
Lat 26.837026°
22/6/2024 07:07 PM
Husainganj
me Center
Google

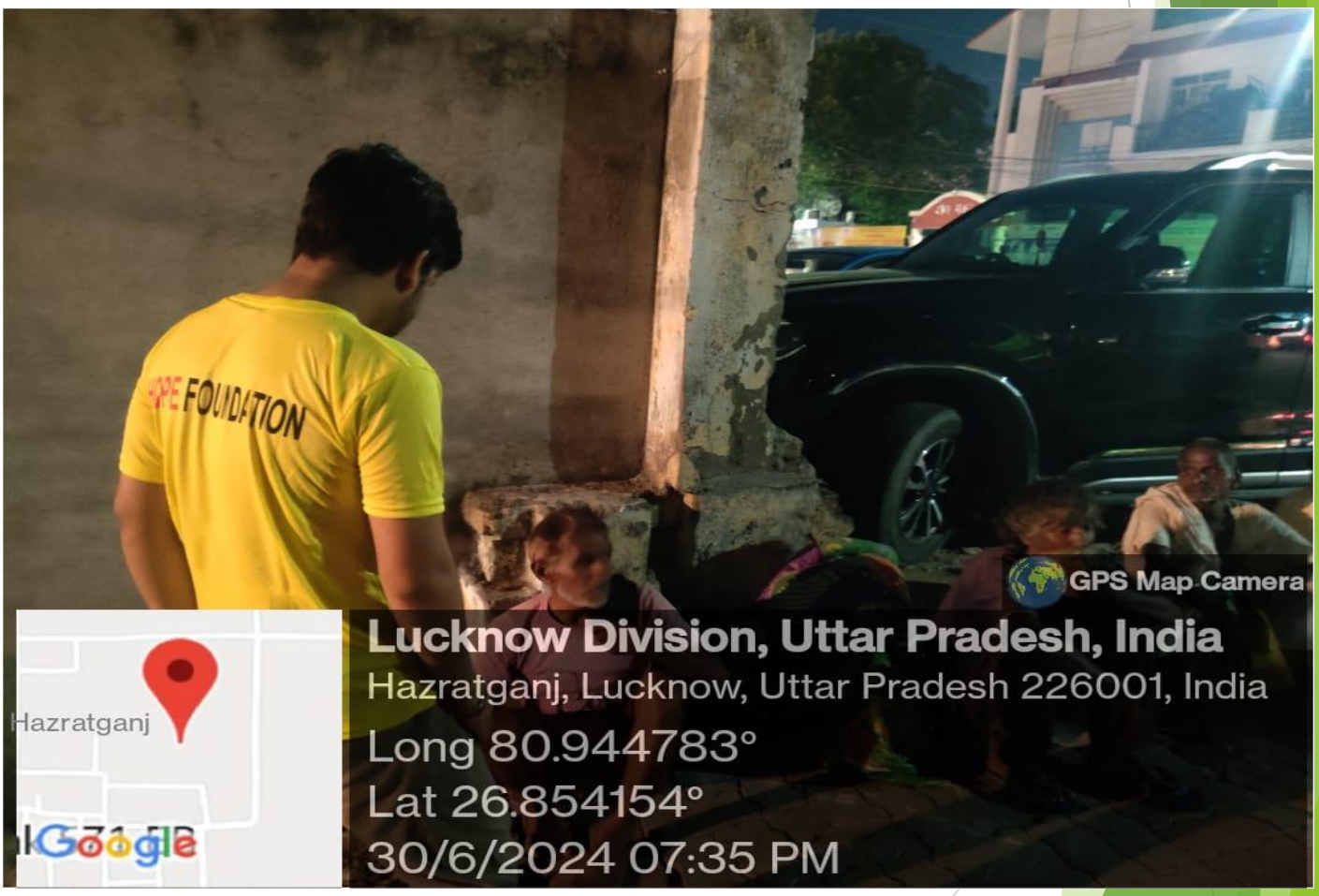
GPS Map Camera
Lucknow Division, Uttar Pradesh, India
Hazratganj, Lucknow, Uttar Pradesh 226001, India
Long 80.944783°
Lat 26.854154°
30/6/2024 07:35 PM
Hazratganj
Google

GPS Map Camera
Lucknow Division, Uttar Pradesh, India
Hazratganj, Lucknow, Uttar Pradesh 226001, India
Long 80.944783°
Lat 26.854154°
5/7/2024 06:56 PM
Hazratganj
Google

FOUNDATION
GPS Map Camera
Lucknow Division, Uttar Pradesh, India
Gomti Nagar, Lucknow, Uttar Pradesh, India
Long 81.007219°
Lat 26.849622°
6/7/2024 01:25 PM
Gomti Nagar
Google

GPS Map Camera
Lucknow Division, Uttar Pradesh, India
VW6Q+238, Birbal Sahani Marg, opposite Ganesh
Long 80.937707°
Lat 26.860029°
10/7/2024 02:26 PM
VW6Q+238
Google


GPS Map Camera
Lucknow Division, Uttar Pradesh, India
Hazratganj, Lucknow, Uttar Pradesh 226001, India
Long 80.944783°
Lat 26.854154°
14/7/2024 07:12 PM
Hazratganj
Google

Thank you!
GPS Map Camera
Lucknow Division, Uttar Pradesh, India
Peace Building, Aishbagh Rd, Rajendra Nagar,
Long 80.918367°
Lat 26.839074°
19/7/2024 01:47 PM
Peace Building
Google

CONCLUSION

- **Addressing Food Insecurity and Healthcare**:
The project effectively tackled critical issues of food insecurity and inadequate healthcare, significantly improving access to nutritious food and healthcare services for many families.

- **Improved Health and Well-being**:
As a result of the project, children are healthier, families have more stable access to food, and overall community health has improved.

- **Community Involvement and Engagement**:
The success of the project is reflected in the increasing involvement of the community, with local residents participating in workshops, feedback sessions, and sharing success stories.

- **Sustaining Gains and Addressing New Challenges**:
Moving forward, the focus will be on maintaining the progress made, refining programs, and addressing emerging challenges to ensure continued impact.

Thank
You